TERRAIN ANALYSIS

OF DIFFUN, QUIRINO, PHILIPPINES

Elevation

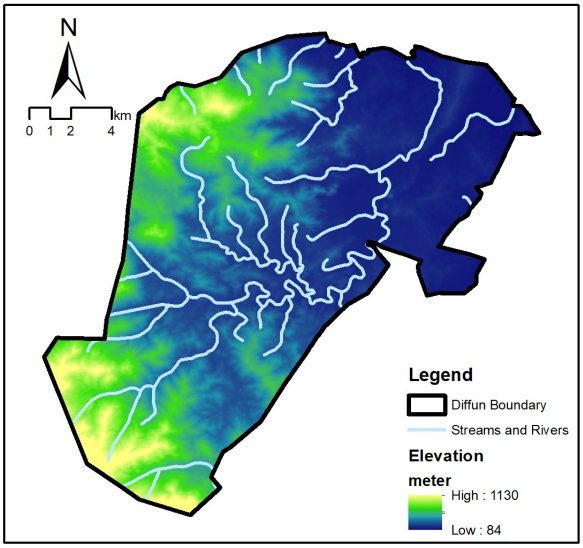

Contour

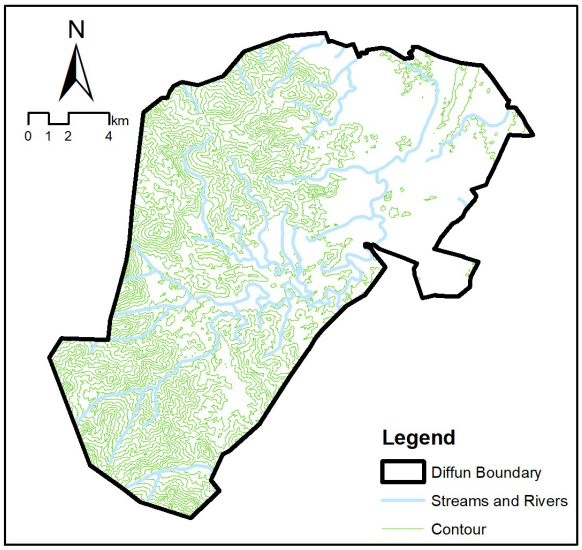

Slope

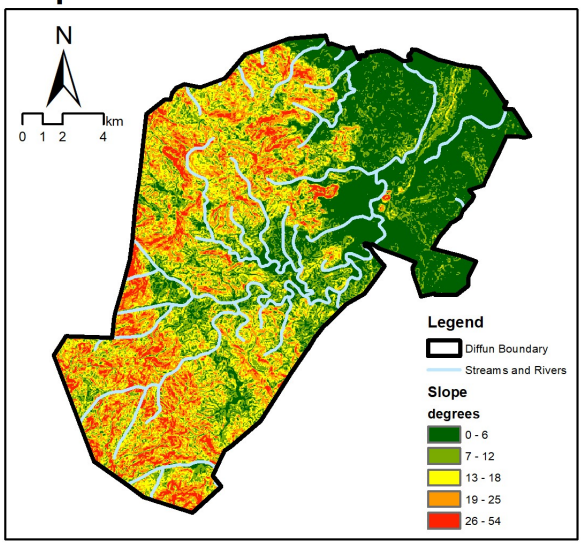

Aspect

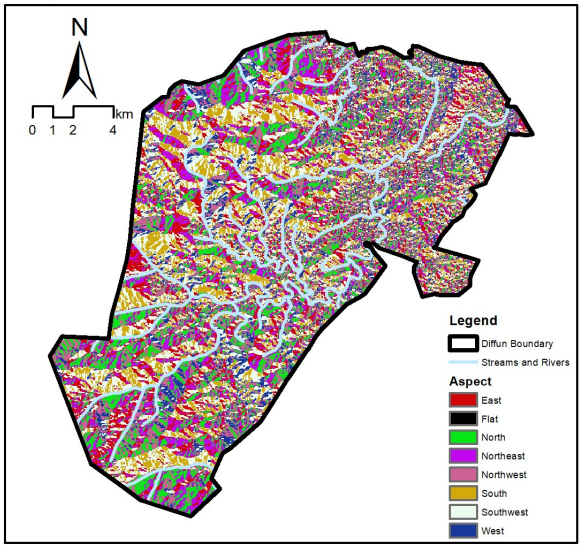

Hillshade

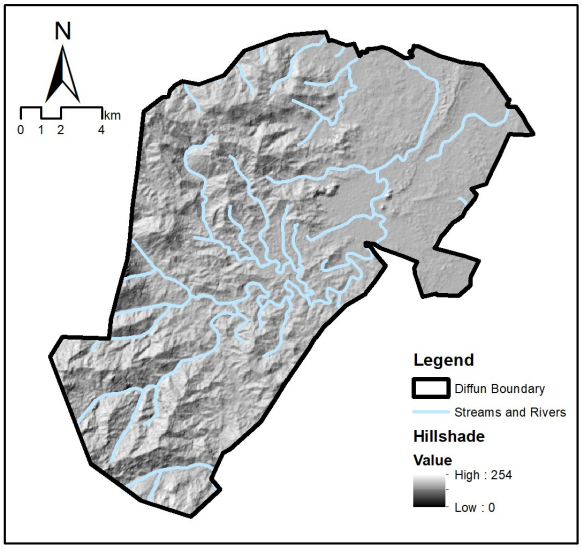

Overview

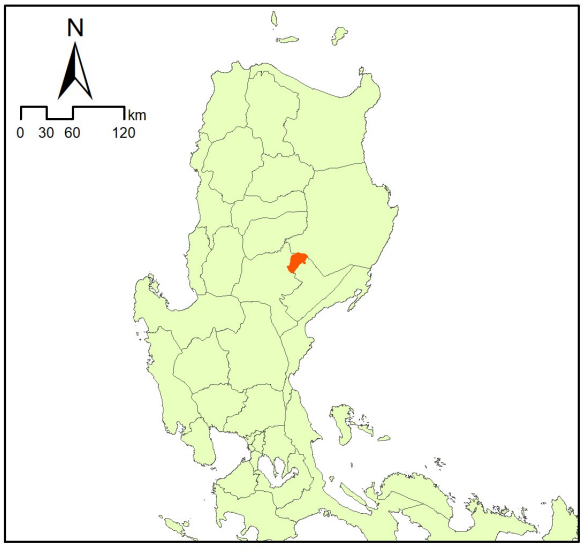

ELEVATION
- *Displays the variation in terrain height across Diffun, ranging from 64 meters (lowest) to 1,130 meters (highest).*

SLOPE
- *Shows the steepness of terrain in degrees, categorized into ranges.*

HILLSHADE
- *Illustrates terrain relief using simulated sunlight.*

CONTOUR
- *Displays elevation lines at consistent intervals.*

ASPECT
- *Indicates slope direction, influencing sunlight exposure and water drainage.*

DATA SOURCE;
SRTM 1Sec image acquired on March 2025, retieved from USGS Earth Explorer.
Administrative boundaries retrieved from National Mappping and Resource Inforrmation Authority (NAMRIA), Philippine Statistics Authority (PSA).

Joshua L. Bucasan (4-6-25)